PLOT 34-160 - SITUATION

- **County:** Cervera (3406)
- **Municipality**: Cervera de Pisuerga (34056)

LEGAL STATUS:
- **Public Forest (MUP)**: Tremedal
- **Ownership**: Ayto. de Cervera de Pisuerga
- **Boundary markers**: No
- **Legally demarcated**: No
- **Protected area**: Montaña Palentina Natural Park

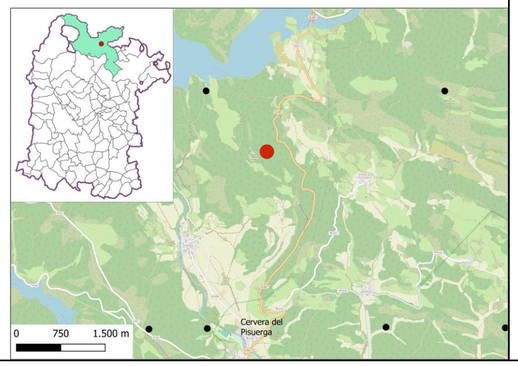

NATURAL CONDITIONS

- **Altitude (m):** 1230
- **Main slope (°)**: 6,5
- **Aspect main slope (°):** 259
- **Exposure:** Shady
- **Fuel model**: 9
- **Biogeographical region**: Atlantic

Soil:
- Siliceous soil
- No stoniness
- Loam texture
- Very rich in organic matter
- Moderately acidic (5>pH<6)

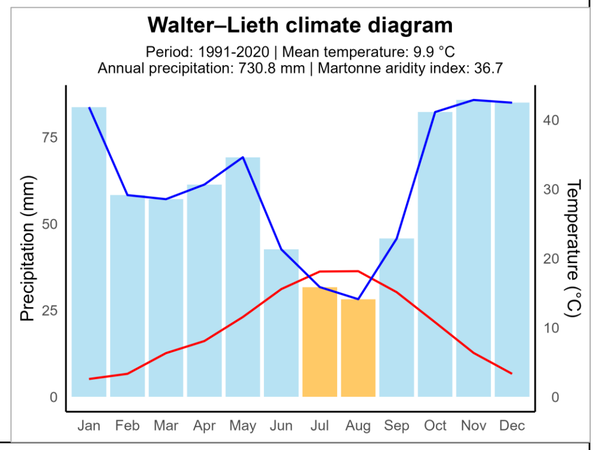

FOREST STATUS

Variables	NFI2	NFI3	NFI4
Field data collection date	1991	24/03/03	13/08/19
Tree canopy cover in the plot (%)	90	85	90
nº of trees measured	26	29	27
Dominant height (m)	11.85	16.57	19.73
Mean height (m)	11.25	13.98	17.25
Quadratic mean diameter (m)	0.21	0.24	0.30
Mean diameter (m)	0.21	0.23	0.29
nº of standing dead trees	0	0	1
Species composition	Pure	Pure	Pure
Stand structure	Uneven-age	Uneven-age	Uneven-age
Shannon index	0.00	0.17	0.66
Slenderness index	54.74	59.95	60.19
SDI / SDImax	0,.68	0.76	0.56
Hart index	29.79	22.25	25.33

Tree layer

Species	Variables	NFI2	NFI3	NFI4
Quercus petraeae	nº of trees measured	26	28	23
	Age (years)	-	-	-
	Development stage	Polewood	Polewood	Old growth
	Origin	Natural: seed and sprout		
	Canopy cover (%)	90	50	70
	Regeneration density in the plot (h<5 m)	1 - 4 trees	> 15 trees	>15 trees
Quercus pyrenaica	nº of trees measured	0	1	3
	Age (years)	-	-	-
	Development stage		Polewood	Old growth
	Origin	Natural: seed and sprout		
	Canopy cover (%)	70	40	20
	Regeneration density in the plot (h<5 m)	0	> 15 trees	>15 trees

Shrub layer

Species	Variables	NFI2	NFI3	NFI4
Erica spp.	Canopy cover (%)	5		
	Hm (m)	0.4		
Rosa spp.	Canopy cover (%)	5	5	2
	Hm (m)	1	0.6	0.3
Retama spp.	Canopy cover (%)		10	3
	Hm (m)		0.7	0.2
Papilionoideas (Ht >1.5m)	Canopy cover (%)	10		
	Hm (m)	1		

FOREST STOCKS

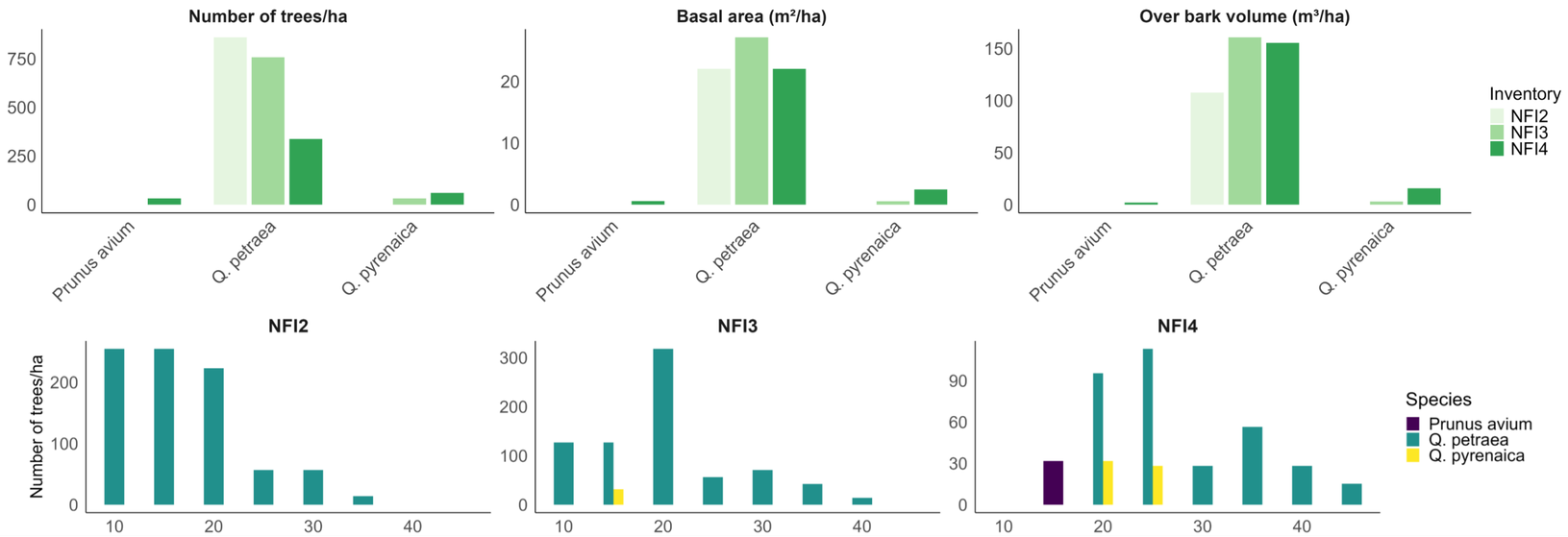

FOREST DAMAGE

NFI2: no signs of damage

nº of trees showing damage (%):

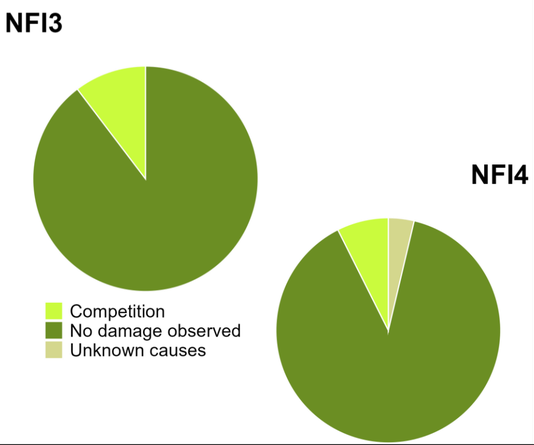

WOOD QUALITY

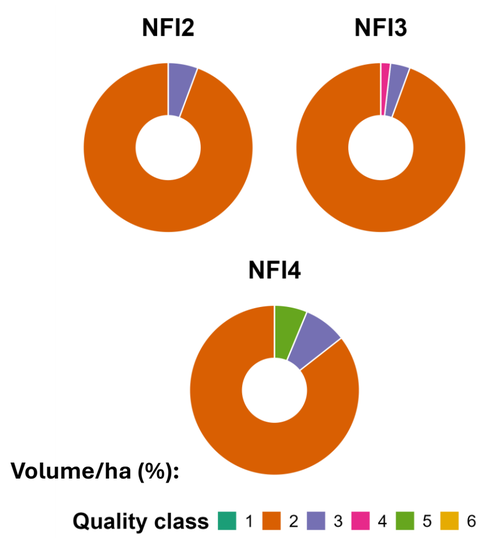
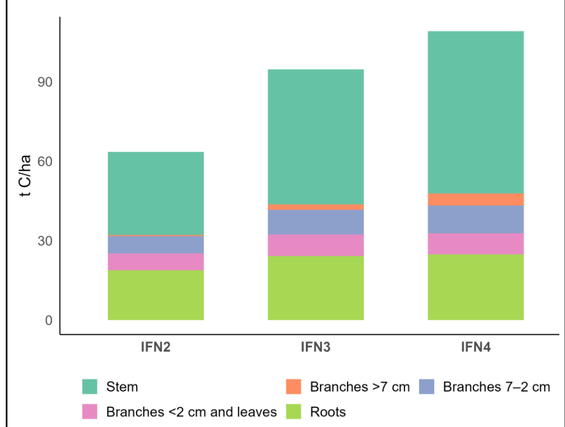
ABOVEGROUND BIOMASS CARBON